NEGERI PULAU PINANG

Warta Kerajaan

DITERBITKAN DENGAN KUASA

GOVERNMENT OF PENANG GAZETTE

PUBLISHED BY AUTHORITY

Jil. 66 **15hb Disember 2022** **No. 49**

AKTA PERHUTANAN NEGARA 1984

NATIONAL FORESTRY ACT 1984

ENAKMEN PERHUTANAN NEGARA (NEGERI-NEGERI MALAYSIA) (PEMAKAIAN) 1986

NATIONAL FORESTRY (STATES OF MALAYSIA) (ADOPTION) ENACTMENT 1986

No. 1291.

PEMBERITAHUAN PENGWUJUDAN HUTAN SIMPANAN KEKAL

NOTIFICATION OF CONSTITUTION OF PERMANENT RESERVED FOREST

Menurut seksyen 7 Akta Perhutanan Negara 1984 [*Akta 313*] seperti yang diterima pakai oleh Enakmen Perhutanan Negara (Negeri-negeri Malaysia) (Pemakaian) 1986 [*En. 2/1986*], Pihak Berkuasa Negeri Pulau Pinang dengan ini mengisytiharkan bahawa kawasan yang dinyatakan dalam Jadual, hendaklah dijadikan sebagai hutan simpanan kekal mulai dari tarikh Pemberitahuan ini disiarkan dalam *Warta* Kerajaan Negeri Pulau Pinang.

Pursuant to section 7 of the National Forestry Act 1984 [*Act 313*] *as adopted by the National Forestry (States of Malaysia) (Adoption) Enactment 1986* [*En. 2/1986*], *the State Authority of Penang hereby declares that the area which is described in the Schedule, shall be a permanent reserved forest with effect from the date of publication of this Notification in the Penang State Government Gazette*.

JADUAL/*SCHEDULE*

Hutan Simpanan Kekal/ *Permanent Reserved Forests*	Mukim/ *Township*	Daerah/ *District*	Keluasan/ *Area* Hektar/ *Hectares*
Pasir Gebu	1	Seberang Perai Utara	127.585
Lahar Endin	4	Seberang Perai Utara	129.107
Kuala Bekah	4	Seberang Perai Utara	69.798
Air Itam Dalam	11	Seberang Perai Utara	22.085
Juru	12	Seberang Perai Tengah	22.561
Sungai Chenaam	10	Seberang Perai Tengah	190.1161
Sungai Chenaam	10	Seberang Perai Selatan	58.6389
Sungai Udang	10	Seberang Perai Selatan	44.4572
Sungai Udang	10	Seberang Perai Selatan	10.9070
Pulau Betong	1 & 7	Barat Daya	1.2251

JADUAL/*SCHEDULE*

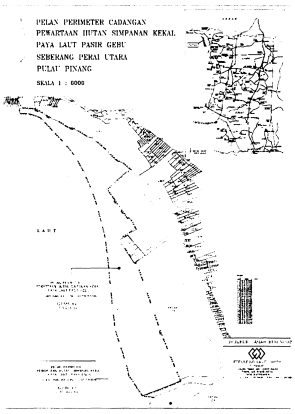

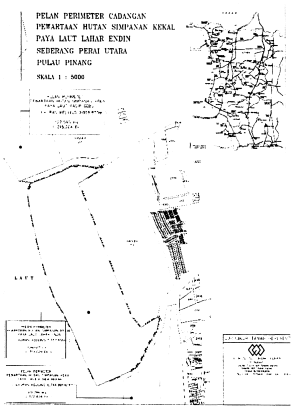

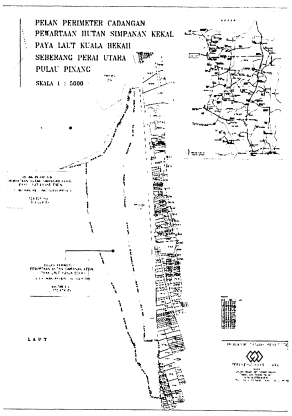

JADUAL/*SCHEDULE*

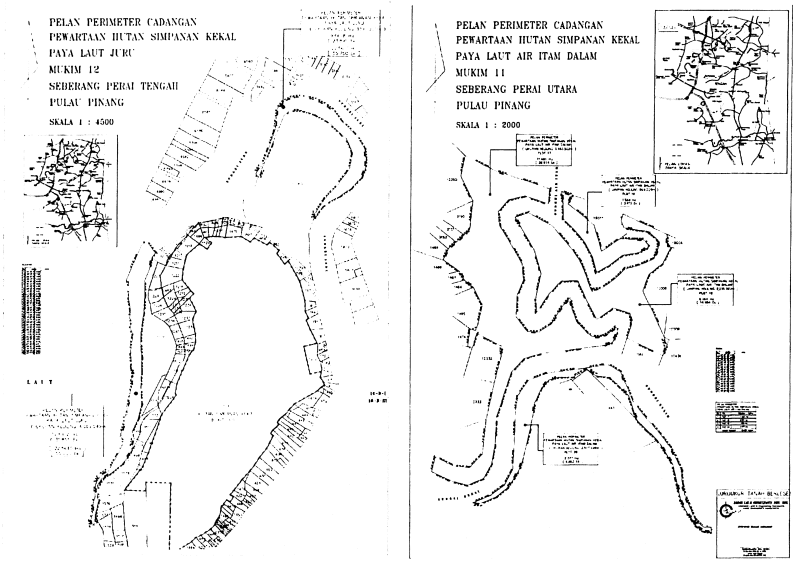

JADUAL/*SCHEDULE*

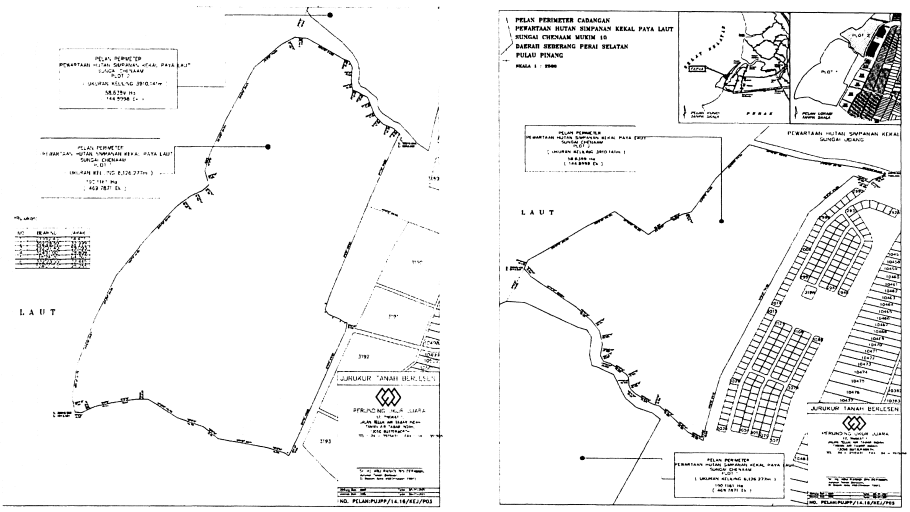

JADUAL/*SCHEDULE*

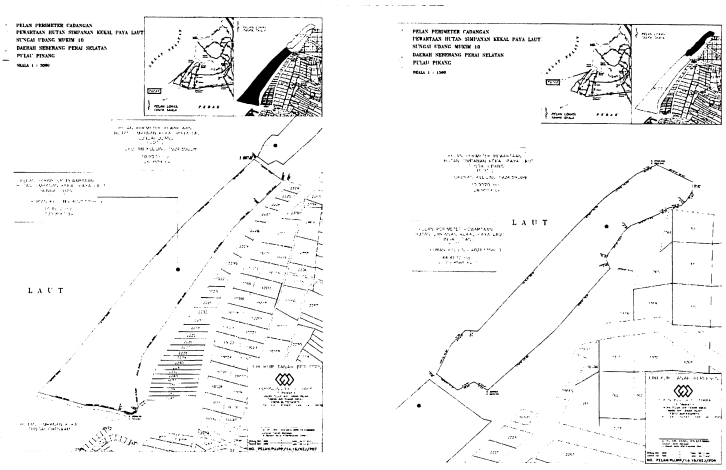

JADUAL/*SCHEDULE*

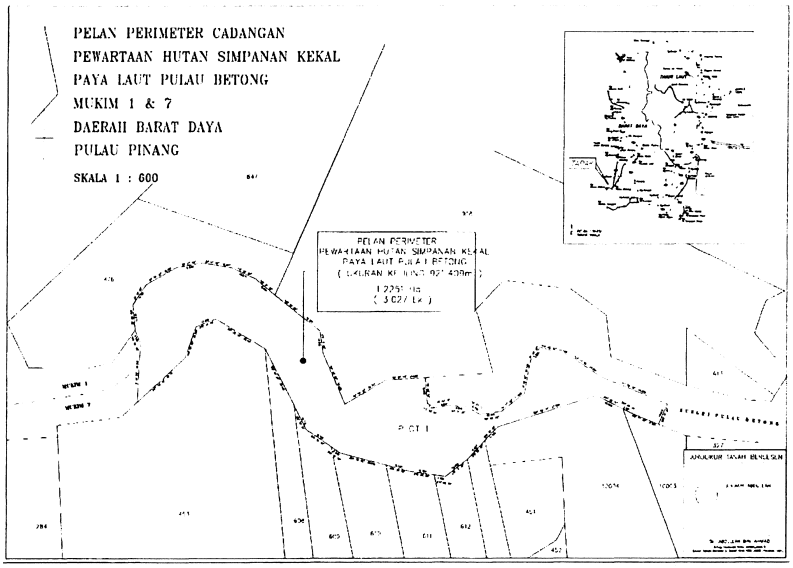

Bertarikh 5 Disember 2022

Dated 5 December 2022

[JPNPP(R)/100-1/1(44); PUNPP 352/100/1/2/EA/35 JLD2]

MUHAMAD AZRAI BIN MOHAMAD ZAINI
Setiausaha
Majlis Mesyuarat Kerajaan Negeri
Pulau Pinang/
Clerk of
State Executive Council
Penang

KANUN TANAH NEGARA
(Akta 56 tahun 1965)

NATIONAL LAND CODE
(Act 56 of 1965)

No. 1292.

PERIZABAN TANAH BAGI MAKSUD AWAM

RESERVATION OF LAND FOR PUBLIC PURPOSE

Pada menjalankan kuasa yang diberikan oleh subseksyen 62(1) Kanun Tanah Negara [*Akta 828*], Pihak Berkuasa Negeri Pulau Pinang telah merizabkan tanah yang diperihalkan dalam Jadual bagi maksud awam, iaitu suatu tapak untuk kawasan lapang dan telah menetapkan bahawa Setiausaha Kerajaan Negeri Pulau Pinang hendaklah mempunyai kawalan terhadap tanah rizab itu dan bahawa tanah rizab itu hendaklah diselenggarakan oleh Majlis Bandaraya Seberang Perai.

In exercise of the powers conferred by subsection 62(1) of the National Land Code [*Act 828*], *the State Authority of Penang has reserved the lands described in the Schedule for a public purpose, to wit, a site for open area and has designated that the State Secretary of Penang shall have control of the reserved lands and that the reserved land shall be maintained by the Seberang Perai City Council.*

JADUAL/*SCHEDULE*

Daerah—Seberang Perai Utara.

Mukim/ *Mukim*	No. Lot/ *Lot No.*	No. Pelan Akui/ *Certified Plan No.*	Keluasan/ *Area* Meter Persegi/ *Square Metres*
Mukim 6	24246	P.A. 109771	902
Mukim 6	24247	P.A. 109774	3074

Bertarikh 24 November 2022
Dated 24 November 2022
[PTG/PS/SPU/1273; PDTSPU/T/R/12/2022(4); PUBLPP 226_2016; PUNPP 352/100/1/2/EA/11 Jld. 22]

DATO' HAJI ZULKIFLI BIN LONG
Pengarah Tanah dan Galian
Pulau Pinang/
Director of Lands and Mines
Penang